Winter 2026

Software Requirements Specification

<UNITED TRANSIT>

Scott Denby

Xena Illarionov

Dillon Kwak

Avery Lyu

Alex Protuc

Eric Wong

https://github.com/Awestruck3/PRJ566NBB_2261_Group1

<GROUP NAME> | Group #1

Executive Summary

Background

Description

Company Value Add

End-User Value Add

Scope

What is Included

What is Not Included

Justification

Table of Contents

Background 1
Description 1
Company Value Add 1
End-User Value Add 1
Scope 1
What is Included 1
What is Not Included 1
Justification 1
1.1 Document Authors: 4
1.2 Document Revision History 4
1.3 Document Purpose 5
1.4 Audience 5
1.5 Group Agreement 5
Team name: Group 1 5
Project Title: United Transit 5
Project Time Frame 5
Team Members 5
Team Leadership 5
Team Functions/Roles 5
Team Meetings 6
Team Problems 6
Team Commitment 6
2.1 Project Proposal 6
2.1.1 Project Background (research) 6
2.1.2 Problem Statement (1pg) 8
2.1.3 Product Vision (1pg) 9
2.2 Stakeholders and Users 9
2.3 Project Scope 10
2.4 System Risks 11
2.5 Operating Environment 13
2.6 Functional Requirements 14
2.6.1 User Story Interviews 14
2.6.2 Core Functionalities 17
2.7 Nonfunctional Requirements 18
2.8 UI/UX Interface Mock-ups 19
3.1 Data Flow Diagrams 23
3.2 User Stories and related Use Case Scenarios 24
3.3 Activity Diagrams 26

3.4 Business Rules.....31
5.1 ERD Diagram.....34
5.2 Data Dictionary.....34
6.1 Work Breakdown Structure.....41
6.2 Milestones & Acceptance Criteria.....43

Section 1

1.1 Document Authors:

Scott Denby - 118823244

Dillon Kwak - 135389203

Avery Lyu - 183244235

Alex Protuc - 185936234

Eric Wong - 037250081

Xena Illarionov - 170037212

1.2 Document Revision History

WEEK	DATE	Revisions
1	Jan 19, 2026	• Updated title page, completed: section 1, 2.1
2	Jan 31, 2026	• Completed sections 2.2-2.5
3	Feb 7, 2026	• Completed sections 2.6-2.7
4	Feb 15, 2026	• Completed sections 3.1-3.4
5	Mar 1,2026	• Completed sections 2.8
6	Mar 15, 2026	• Completed sections 4 and 5
7	Mar 22, 2026	• Completed section 6
8	Mar 29,2026	• Completed section 7
9		•
11		•
12		•
13		•
14		•

1.3 Document Purpose

This document aims to be a master document for tracking the development of United Transit. This living document will be updated and expanded upon as new use cases, requirements, and business rules are created for the project.

This document's progress will be tracked in the following sections (Section 2-8, 1.2) allowing readers to easily keep track of these updates as they are implemented.

1.4 Audience

Intended for users who rely on map-based apps with public transit. The primary audience includes daily commuters (such as students) who depend on buses, trains, subways, and other forms of public transit to reach multiple destinations which requires efficient transit planning.

1.5 Group Agreement

Team name: Group 1

Project Title: **United Transit**

Project Time Frame
Jan 19, 2026 - Aug 14, 2026

Team Members

- Scott Denby
- Xena Illarionov
- Dillon Kwak
- Avery Lyu
- Alex Protuc
- Eric Wong

Team Leadership

Scott Denby

Team Functions/Roles

- Scott Denby: Project Manager
- Xena Illarionov: UI/UX Designer
- Dillon Kwak: QA
- Avery Lyu: System Developer
- Alex Protuc: System Developer
- Eric Wong: Data Analyst

Team Meetings

- Every Monday 13:30 - 15:15 in person
- Every Thursday 11:40 - 13:25 online

Team Problems

In the event a problem does occur, it will be listed here along with all respective proposed/functional solutions.

Team Commitment

The undersigned members agree to work together on the project until the end of the PRJ666 next Semester. They recognize that as a team and individually they are equally responsible for the quality of all deliverables.

Name	Date	Signature
Scott Denby	1/19/2026	Scott Denby
Xena Illarionov	1/19/2026	Xena Illarionov
Dillon Kwak	1/19/2026	Dillon Kwak
Avery Lyu	1/19/2026	Avery Lyu
Alex Protuc	1/19/2026	Alex Protuc
Eric Wong	1/19/2026	Eric Wong

Section 2

2.1 Project Proposal

2.1.1 Project Background (research)

Features	Google Maps	Apple Maps	Transit App	United Transit (Ours)
Point A to B Transit Routing	✔	✔	✔	✔

Real-time Vehicle Locations	✔	✔	✔	✔
Multi-Stop Transit Planning	✘	✘	✘	✔
Proactive Delay Alerts	✘	✘	✔	✔
Trip Bookmarking/Saving	✔	✔	✘	✔
Historical Reliability Data	✘	✘	✘	✔
Multi-destination ETA	✘	✘	✘	✔

Statistics
She would like to know the background story (reasoning) behind our selection

But for transit the answer to "What's the best route from A to B" depends on the moment you ask it (or the moment you say you want to depart/arrive if you use those options). The transit routes occurring at that time are analyzed and the best option is provided. You might be told to take two busses to get from A to B, but if you wait 10 minutes and it's now too late to get that first bus then the same search might tell you to take a train instead.

This is the reason that transit doesn't have a multi-stop option; because the answer to "What's the best route from B to C" varies depending on how long you spend at B, rather than being the constant answer available should you be driving. (https://www.reddit.com/r/GoogleMaps/comments/jcf94v/google_maps_doesnt_support_planning_a/)

Existing solutions:

- **Google Maps**: Google Maps is the most widely used navigation engine globally. While it excels in visualizing routes and provides real-time data for public transit, its transit feature is strictly limited to single-destination queries. Users can add stops while driving or walking, but the "Add Stop" button disappears once the transit mode is selected. Furthermore, its arrival estimates often suffer from latency issues because distributed servers do not always update instantly when transit commissions (like the TTC) push service alerts.
  https://www.google.com/maps

- **Apple Maps:** As the native navigation app for the iOS ecosystem, Apple Maps provides a seamless user interface and deep integration with mobile hardware. However, it mirrors the limitations of Google Maps regarding transit. It lacks the logic to calculate how a 15-minute delay at an intermediate stop will impact the connecting legs of a journey, forcing users to manually restart their search for every segment of a trip.
  https://maps.apple.com/

- **Transit App:** Transit App is a specialized platform that utilizes crowdsourced data to provide high-accuracy vehicle tracking. While it is superior to general-purpose maps in providing real-time "Go" directions and multimodal options, it is still built around a single-destination architecture. It does not allow a student, for example, to plan a route from Seneca to a grocery store and then to their home as one continuous, tracked itinerary.
  https://transitapp.com/

- **United Transit:** United Transit leverages a custom routing API designed to handle complex, user-defined constraints. Unlike existing solutions, our platform treats a "trip" as a sequence of multiple events. By integrating real-time GTFS data with predictive arrival intervals, we provide a total-journey ETA that accounts for the time spent at each stop. Our solution seeks to eliminate the "uncertainty gap" that transit users face when trying to run errands during their daily commute

2.1.2 Problem Statement (1pg)

The problem addressed by this project is the lack of multi-stop trip planning and unreliable real-time accuracy for public transit users in existing mapping applications. This issue affects commuters, students, and urban residents who rely on public transit and mapping tools to plan efficient daily travel, especially those without access to private vehicles. From their perspective, the inability to add intermediate stops forces users to manually replan routes after each destination, increasing travel time, uncertainty, and the risk of missed connections due to delays or inaccurate arrival predictions. The impact of this problem is reduced efficiency, increased stress, and decreased trust in public transit systems, which can discourage transit use altogether. A successful solution would provide an

optimized public transit routing system that supports multiple stops in a single journey, incorporates accurate real-time service updates, offers alternative routes during disruptions, and ultimately improves reliability, convenience, and user confidence in public transit travel.

This issue mainly affects daily commuters who solely rely on public transportation to travel throughout the day.

2.1.3 Product Vision (1pg)

Those of us who want to streamline their trip, any visitors or day to day commuters. The United Transit that allows users to optimize the travel time unlike Google Map, Apple Map, Our product will provide optimal solution for multi trip planning when using public transit.

2.2 Stakeholders and Users

Internal:

Stakeholder	**Description**	**Influence**	**Interest**
Project manager	Manages the project and team to ensure the project quality and ensure deadlines are met	High	High
UI/UX Designer	Design the UI/UX for the software or other platforms developed in the future.	Med	High
System Developer	Developer of the project software based on requirements	High	High
Data Analyst	Analyzes the data to uphold proper database structure and quality	Med	Med
QA	Tests the software quality before	High	Med

	launching/updating		

External:

Stakeholder	**Description**	**Influence**	**Interest**
End-User	Commuters who use this service	High	High
Google Maps Development Team	Integration team for this project	High	Med
Google Maps Marketing Team	Team responsible for getting service to end users	High	Low

2.3 Project Scope

In scope features:

- Multi stop trip planning using transit: Allows users to plan a trip with multiple stops estimated durations at each stop.
- Trips with Multiple forms of transit: Includes buses, walking and alternatives for bikers that also use transit.
- Accurate real time transit updates: Using a combination of real time data from the buses using the Next Vehicle Arrival System (NVAS) and location data from users
- Alternate routes: When there are system interruptions or multiple routes available
- Route optimization: Find fastest way to get to the destination when the user has single or multiple stops
- Redirection optimization: When having to redirect during the travel, it will consider the changed time of travel, location and time of travel (rush hour, holidays etc) to reflect the most optimal way to redirect via public transit.
- Recent visits: Able to set recently visited places and retrieve in convenience
- Landmarks: Will identify “Landmark” or any other commonly visited / identified places (this will be based on more established maps such as google or apple maps)
- Compass: Identify which direction the user is located (it will show users current location and identify the “North or N” and will reformat the map so the upper part of the phone will be directed to the “N” when this feature is enabled)

Out of scope features:

- Directions for private vehicles: Other existing solutions already
- Long distance travel: Long distance trains, flights and buses that travel between cities and countries.
- Offline navigation: A connection is required for the real time data and other solutions already provide options to download maps.
- Taxi/ride share services: Integration with taxis or ride share services such as uber or lyft.
- User Profiles: User authentication or profile management
- Guide features: Recommended restaurants or destination for the region
- Advertisements: Any advertisements of products will not be featured
- 3D map viewing: 3D display, or real image of the actual location will not be displayed
- Share my location: Share my location to other users
- Library / Bookmarks: Ways to save certain locations under a criteria (e.g. Save restaurant under "food")
- Search with camera: Access camera for the app to detect which location you are in
- Voice search: Access microphone to enter the location
- Set destination as "your" locations: setting certain addresses to be your: home, work, school, or any other frequently visited place.
- Rating: Rate a destination (place, restaurant, museum, historical site etc.)
- Review: Write a review of the destination.

2.4 System Risks

- **Market**
  - Limited user adoption if accuracy is not significantly better than Google Maps
- **Financial**
  - Cost of maintaining access to real-time data sources in the future
- **Technology**
  - Real-time transit data is inaccurate or delayed
  - API integration failure with third-party data sources
  - Algorithm complexity for multi-stop transit routing
  - Scalability issues when expanding beyond Seneca area
- **People**
  - Limited experience with transit data standards (GTFS, real-time feeds)
  - Uneven workload distribution among developers
- **Structure / Process**
  - Poor system architecture design affecting maintainability (not modular enough)
  - Incomplete or unclear system requirements early in development

Risk ID	Category	Risk Description	Probability	Impact
T1	**Technology**	Real-time transit data may be inaccurate or delayed due to unreliable updates from external data providers (e.g., TTC, GTFS).	High	High
T2	**Technology**	Failure or instability in integrating third-party APIs may disrupt routing and trip planning features.	Medium	High
T3	**Technology**	Increased algorithm complexity for multi-stop transit routing may cause performance or optimization issues.	Medium	High
T4	**Technology**	Scalability limitations when expanding beyond the Seneca area to larger transit networks.	Low	Medium
P1	**Structure / Process**	Poor initial system architecture design may reduce maintainability and future extensibility.	Medium	Medium
P2	**Structure / Process**	Unclear or evolving system requirements may lead to rework and delays.	Medium	Medium
R1	**People**	Limited team experience with real-time transit data standards (e.g., GTFS) may slow development.	Medium	Medium
R2	**People**	Uneven workload distribution among developers may impact schedule and quality.	Medium	Medium
M1	**Market**	Users may not adopt the system if routing accuracy does not significantly outperform existing mapping applications.	Medium	Medium
F1	**Financial**	Future costs related to accessing or maintaining real-time transit data sources.	Low	Low–Medium

	High			T1
	Medium		P1 P2 R1 R2 M1	T2 T3
	Low	F1	T4	

		Low	Medium	High

Probability

Impact

2.5 Operating Environment

Hardware/Devices Supported

The system will support a wide range of devices, including:

- Desktop and laptop computers (Windows, macOS, Linux-based systems)
- Smartphones and tablets (Android, iOS systems)

End users will interact with the system through a demonstration app accessed via the web or downloaded from a device's app store.

Operating System

While United Transit may be accessed through the web or mobile application, the system itself is still web-based and is built on an API. As such, compatibility mostly depends on the operating system's ability to run modern web browsers, including:

- Windows 10 or later
- macOS 11 or later
- Linux distributions with modern browser support
- Android OS 10 or later
- iOS 15 or later

Ideally, support for older devices should align closely to the minimum standards of established transit apps as well.

Software Dependencies

- A backend server running a RESTful routing API (such as Node.js with Express)
- Database for storing transit data and route logs (such as PostgreSQL or MongoDB)
- Integration with external transit data sources and real-time transit APIs (such as TTC data feeds)

- Modern web browser for system access (such as Chrome, Firefox, or Edge) or compatible mobile device with an app store
- Frontend frameworks for improved mobile app usability (such as React)

Internet Connection

Since the system relies on real-time transit data, an active internet connection is required at all times to ensure accurate routing and up-to-date estimates. Offline functionality is not supported as static data is insufficient for reliable multi-stop transit planning.

2.6 Functional Requirements

2.6.1 User Story Interviews

User Interview

- **Name:** Tom Smith
- **Age:** 20
- **Occupation:** Student
- **Status:** Studying at college while working part time
- **Financial Situation:** Majority of income used to pay for living expenses with a small amount of savings
- **Transit Situation:** Relies on transit for the majority of their travel

How often do you use public transit, and for what kind of trips?

"I use public transit almost every day, mostly between Monday and Friday. On weekdays, I usually travel from home to school, then to my part-time job, and sometimes to a couple of stores before heading home. On weekends, I mostly use public transit for visiting friends or to complete other miscellaneous tasks which require travel."

How do you currently plan trips that involve multiple stops on existing apps?

"I can't exactly plan everything at once with what I currently have. I search how to get from home to school first, then once I arrive or have to go elsewhere, I search again for the next place. If I'm running late or a bus ends up being delayed, I have to redo everything and wait for the next available option. It's especially annoying when I'm short on time."

What other problems do you experience with current transit apps?

"The most recurring issue is delays not updating quick enough. Sometimes the app says the bus is arriving soon, then it ends up arriving 10 minutes later and I'm left waiting in the freezing cold. I also can't see how a delay affects my travel for the rest of my day unless I manually replan each trip."

How important do you find real-time vehicle locations and accurate arrival times?

"I believe it's very important, as it would make me feel more confident whether I should wait, walk, or look for another route if I could see where the bus actually is. Arrival times without live tracking just aren't that reliable anymore. I also believe that alerting users of possible delays during a trip is also highly needed."

Would you use a feature that allows you to plan a full trip with multiple stops?

"Yes, I really would, as that's exactly what I need. If I could plan my whole day at once and see the total travel time, it would make scheduling work shifts much easier, as I wouldn't feel like I'm guessing all the time. I would also like to bookmark routes that I often take to avoid having to retype everything over and over, as it would save a lot of time."

When offered multiple routes how do you decide which one to pick?

"I usually try to pick the route that has the shortest travel time but other factors include the amount of transfers and the time spent waiting between buses. I would rather take 2 buses for a 1 hour trip then 3 buses for a 45 minute trip"

How would you like to be notified about potential delays or changes?

"I would prefer push notifications so that I can quickly read it and can adjust my schedule if needed. But I only want to be notified if the change will actually affect my trip. If the bus I'm on will be 5 minutes late to my 2nd bus stop but I need to wait at the 2nd stop for 15 minutes anyway there's no need to notify me since I need to wait anyway."

Business owner interview

- **Name:** Harvey Douglas
- **Age:** 45
- **Occupation:** Business Owner
- **Status:** Owner of a mid-sized retail and service business
- **Financial Situation:** Financially stable with steady business revenue
- **Transit Situation:** Previously relied on a personal vehicle. However, recently began using public transit to better understand customer accessibility and challenges in newly expanded business locations

How often do you use public transit, and for what kind of trips?

"I am not used to the public transit system. I grew up from the suburbs and got my drivers license when I was 16. From then on, I've never really thought of not owning a car. However, now that I'm expanding my business locations, I've been intentionally using it several times a week. I mainly take it to travel between my home, my main office, and newer business locations just to understand our new customer base. Because our new expansion will be near schools, we expect a lot of our customer base and I find the importance in knowing that as a business owner."

How do you currently plan trips that involve multiple stops on existing apps?

"I find that it'll be extremely inconvenient for our customers. I've downloaded several transit apps that are clearly popular amongst people in their 20's thanks to my daughter. However, most transit apps are clearly designed for single trips. If I need to visit multiple locations in one day, I must plan each segment separately. I can only imagine this adds to the difficulty to my customers as the delays or route changes will affect my potential customer's schedule, especially when they have to run on tight timelines."

What other problems do you experience with current transit apps?

"The biggest issue is the lack of clarity around reliability. Delays are often communicated too late, and there's very little context on how those delays affect the rest of my trip. From a business standpoint, uncertainty is frustrating because it directly impacts punctuality and productivity."

How important do you find real-time vehicle locations and accurate arrival times?

"They are extremely important. As a business owner, thinking from a busy customer's schedule where their day is tightly planned, even small delays can have a ripple effect throughout their day. Being able to see real-time vehicle locations would help me make informed decisions, such as whether to stay on a route or switch to an alternative. I can only imagine how helpful this would be to my customer base."

Would you use a feature that allows you to plan a full trip with multiple stops?

"Yes, I think my customers will really enjoy the multiple stops feature. A feature like that would be very useful, especially when my customers have multiple locations to stop. This feature will help them to time their day perfectly and add a stop to my business location. Being able to see total travel time upfront would help them plan their day more efficiently and reduce uncertainty when scheduling appointments."

When offered multiple routes how do you decide which one to pick?

"I prioritize reliability and predictability over the absolute shortest travel time. I prefer routes with fewer transfers and longer buffer times, as they reduce the risk of missing connections. A slightly longer but more dependable route is often the better option for me. This is because I have a really busy schedule. Now I cannot speak for every customer base, but I think my customers may feel similar to me as they are likely to have a very busy schedule."

How would you like to be notified about potential delays or changes?

"From the experience I had, I would prefer push notifications, but only when the delay meaningfully impacts my trip. The notifications should be actionable. If a delay doesn't affect my arrival time or next connection, it's unnecessary. However, if it risks making me late to a meeting, I'd want to know immediately so I can adjust."

2.6.2 Core Functionalities

1. The system must add multiple stops on a commute using public transit.
2. The system must provide digital representation of vehicle live location across the whole trip (within a reasonable timeframe).

3. The system must be able to bookmark trips (it will save all the destinations that are added to the trip).
4. Alert any delay that occurs prior to the user's bookmarked trip, users will be alerted prior to the traveltime.
5. The system must be able to provide API data from anyone who calls.
6. The system must provide estimated arrival time (including individual stops).
7. The system must provide the nearest two previous vehicles before the search time.

2.7 Nonfunctional Requirements

Performance

- The system must be able to handle at least 100 concurrent users at the same time
- The system should maintain 99% uptime during operating hours

Usability

- Real-time vehicle data and service alerts must be refreshed from the source (e.g., GTFS-Realtime) every 30 seconds.
- The system must be able to handle map scalability
- The system architecture must be modular to allow for the future integration of new regions and transit operators beyond the initial Seneca area.

Security

- User location information will remain confidential
- The system must not share personally identifiable information (PII) or user movement patterns with third-party transit commissions or advertisers.

Portability

- The system must run on mobile devices
- The system should be able to be easily ported to browsers

Accessibility

- Must comply to AODA standards
- Must meet WCAG2.0 Level AA standards
- The UI must be optimized for mobile devices, as the primary use case is commuters in transit.
- The map interface must allow for smooth scaling and panning across the Greater Toronto Area (GTA).

Maintainability

- The system must be built using a modular microservices approach to allow individual transit feeds (e.g., TTC, York Region Transit) to be updated or added without system downtime.

2.8 UI/UX Interface Mock-ups

https://www.figma.com/design/7p2fYC2Tw2YP1IpqhfHFRY/Untitled?node-id=0-1&t=zuxSLEFf93Ys2xr9-1

UI1: Mock-up of the trip planning UI

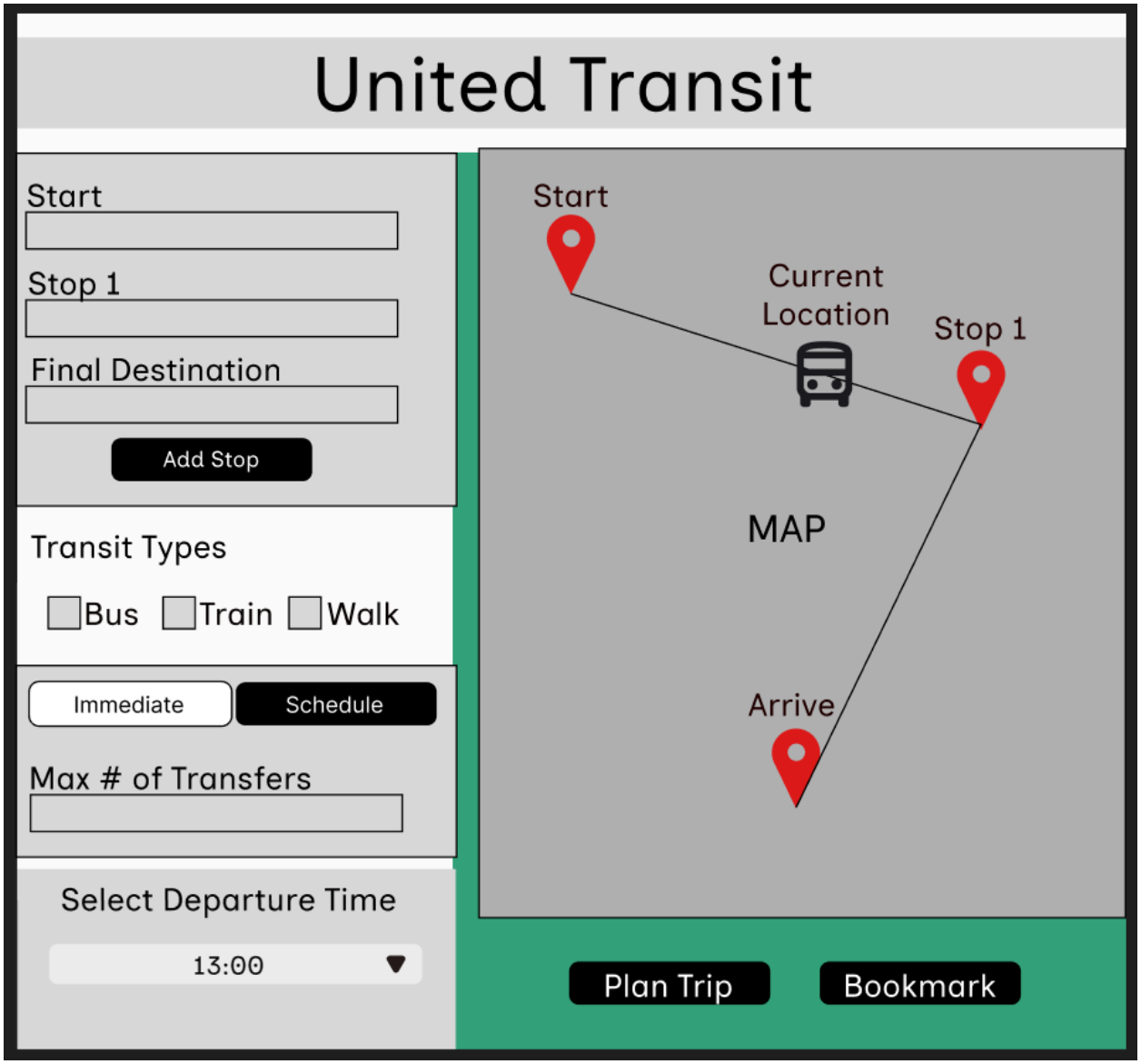

UI2: Service disruptions

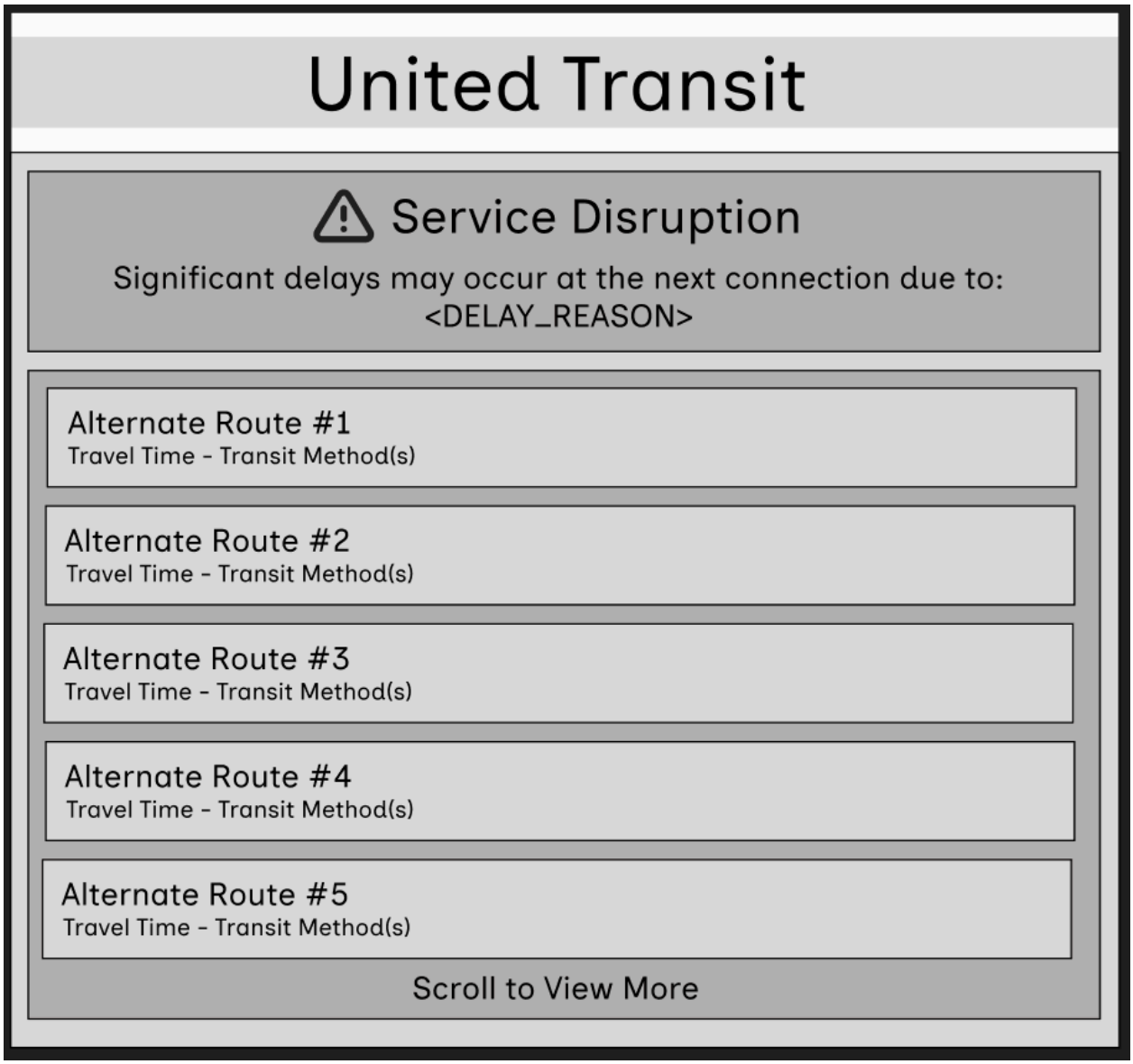

UI3: Bookmarked trips

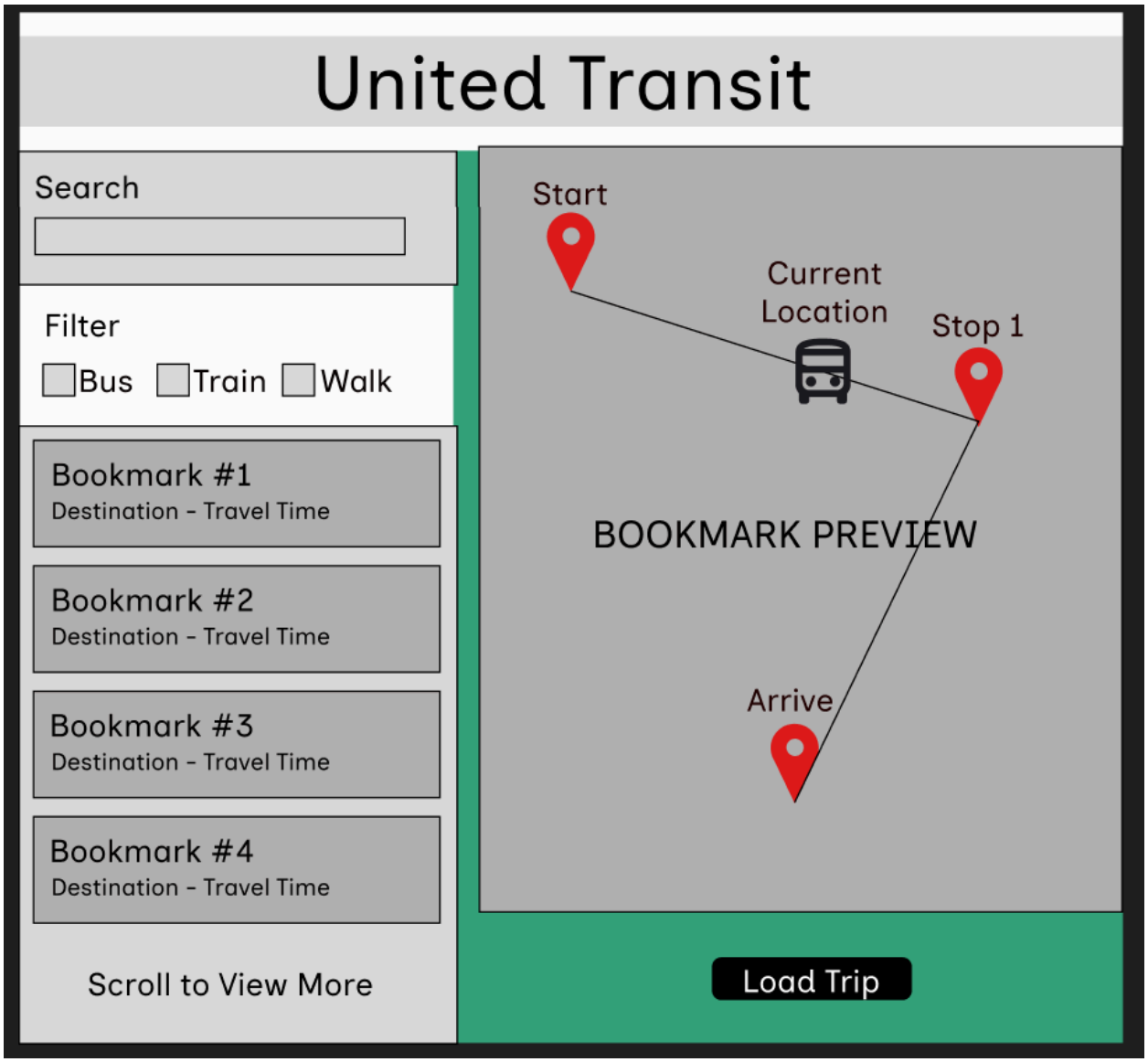

UI4: List of available routes

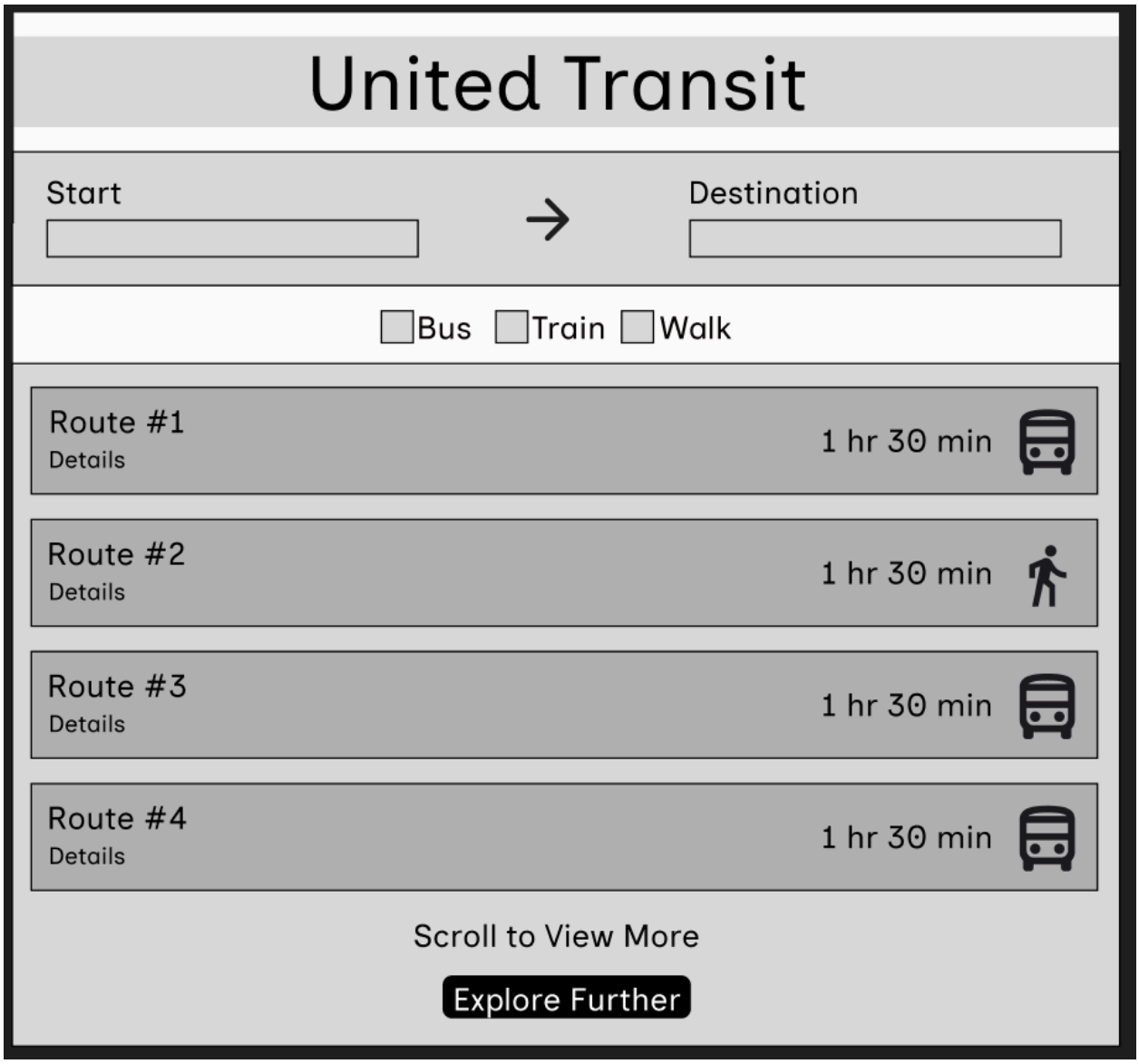

Section 3

3.1 Data Flow Diagrams

DFD: 0

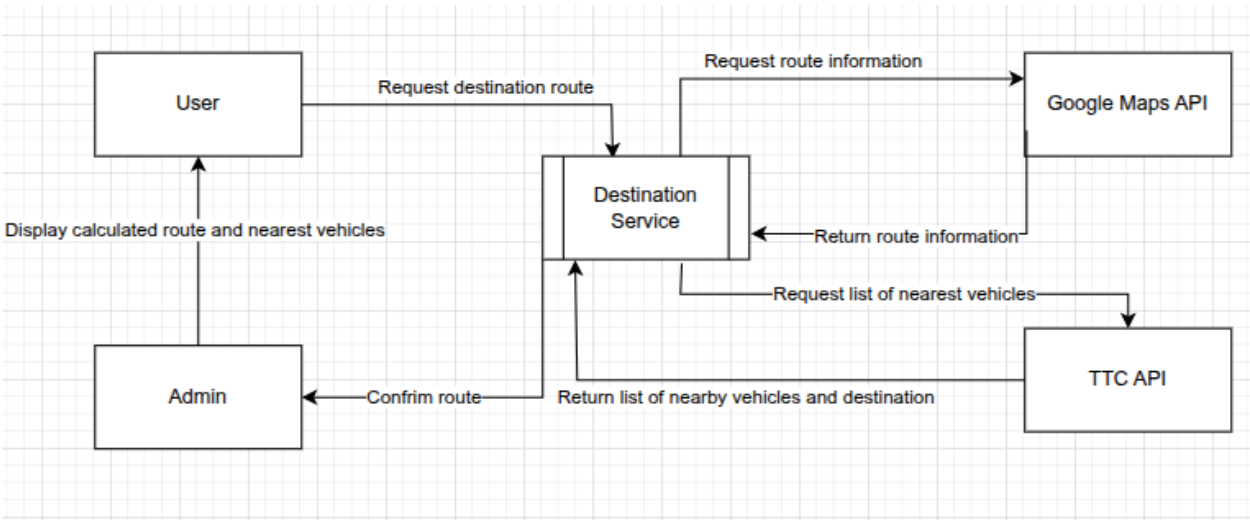

DFD: 1

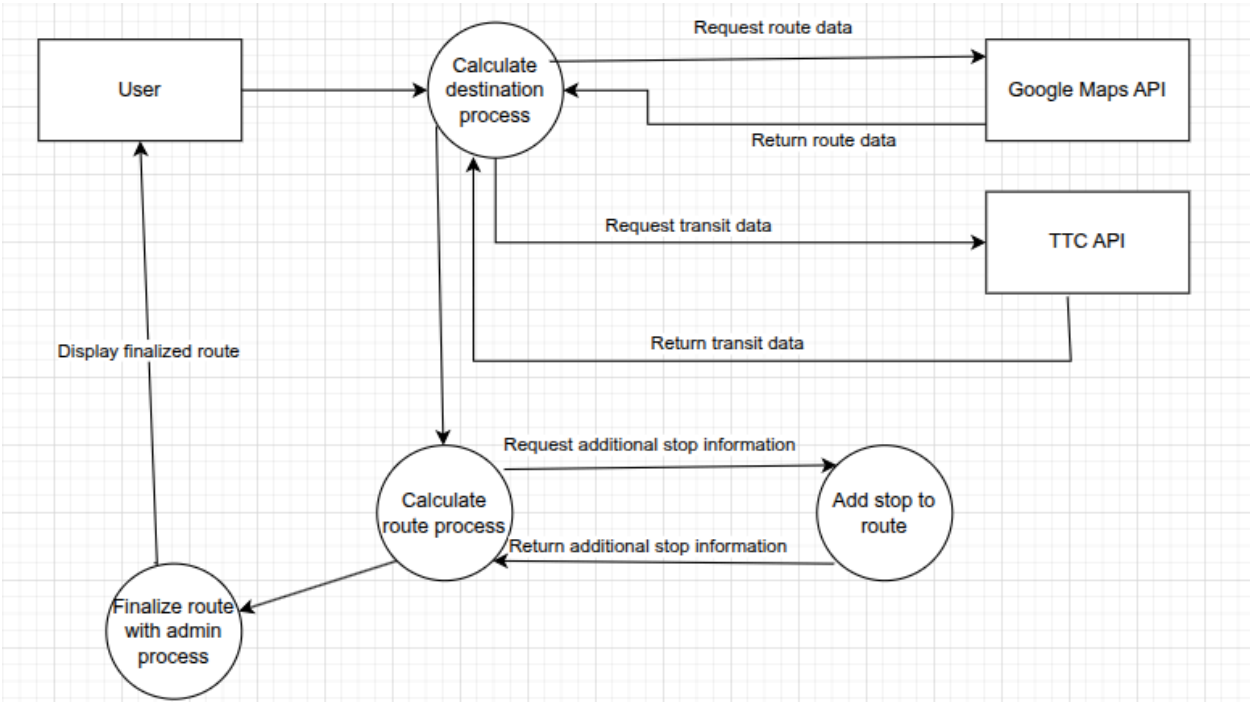

3.2 User Stories and related Use Case Scenarios

Use Case 1: Multi- Stop Planning Engine

User Story: As a public transit user, I want to plan a multi stop trip in a single search so that I can see the total travel time, possible routes/transfers, transit types and stop information.

Description:

- Allows the input of multiple destinations and the order of arrival.
- Calculates the optimal route plus alternatives
- User can add estimated time between stops
- User can choose preferred transit types

Actor: Commuter

Trigger: User enters a trip including starting location, multiple destinations, time at each destination and time.

Outcome: Engine provides possible routes for the trip and detailed information for each stop.

Priority: High

Use Case 2: Trip management System

User Story: As a regular commuter, I want to save my usual trips so that I don't have to input the same destinations all the time.

Description:

- Saves trips that the user choses
- Stores locally (not tied to a user account)
- Uses alert management system to notify about disruptions for saved trips

Actor: Commuter

Trigger: User previously entered a trip and chose to save the route.

Outcome: Trip is saved by the system so that it can be retrieved later.

Priority: Medium

Use Case 3: Alert management System

User Story: As a transit user, I want to receive meaningful notifications about my current or saved trips so that I can adjust my schedule accordingly.

Description:

- Detects service interruptions or delays
- Decides if the delay will affect the current/saved trips
- Sends notifications only when impact is meaningful
- Provides alternate routes to avoid the impacted area

Actor: System

Trigger: There is a service delay for a current/saved trip.

Outcome: System checks if the delay will meaningfully impact the trip and if so sends a push notification to the user with the delay information and possible route alternatives.

Priority: High

Use Case 4: Real-Time Transit Monitoring System

User Story: As a transit user, I want to be able to see the real time locations of buses and updated schedules so that I can remain informed about my trip.

Description:

- Uses NVAS and user location data for real time bus positions
- Displays vehicles on the map
- Dynamically updates schedules and arrival times

Actor: System

Trigger: Real time data shows a change in the arrival of the current bus.

Outcome: Compares real time data with the transit schedule and updates current trip times shown to the user.

Priority: High

Use Case 5: External Routing API

User Story: As a third-party developer , I want to call the United Transit API to get structured transit data so that I can integrate multi-stop routing features into my own local community applications.

Description:

- Provides API endpoints for developers
- Returns information in JSON format
- Uses real time data if available

Actor: Developer

Trigger: External system calls the United Transit API.

Outcome: Returns structured routing and real time data

Privority: Low

3.3 Activity Diagrams

UC 1:

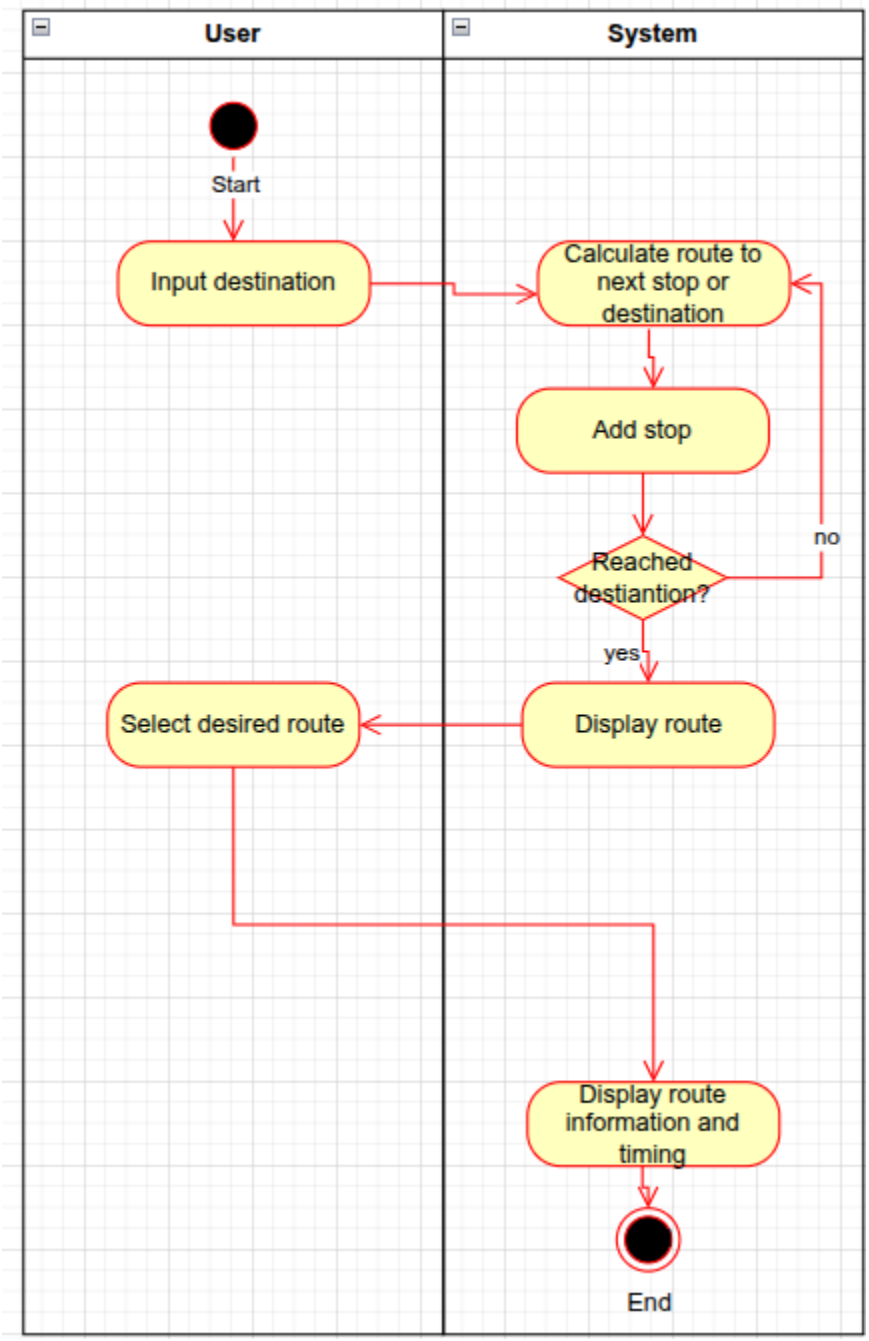
User
System
Start
Input destination
Calculate route to next stop or destination
Add stop
Reached destiantion?
no
yes
Select desired route
Display route
Display route information and timing
End

UC 2:

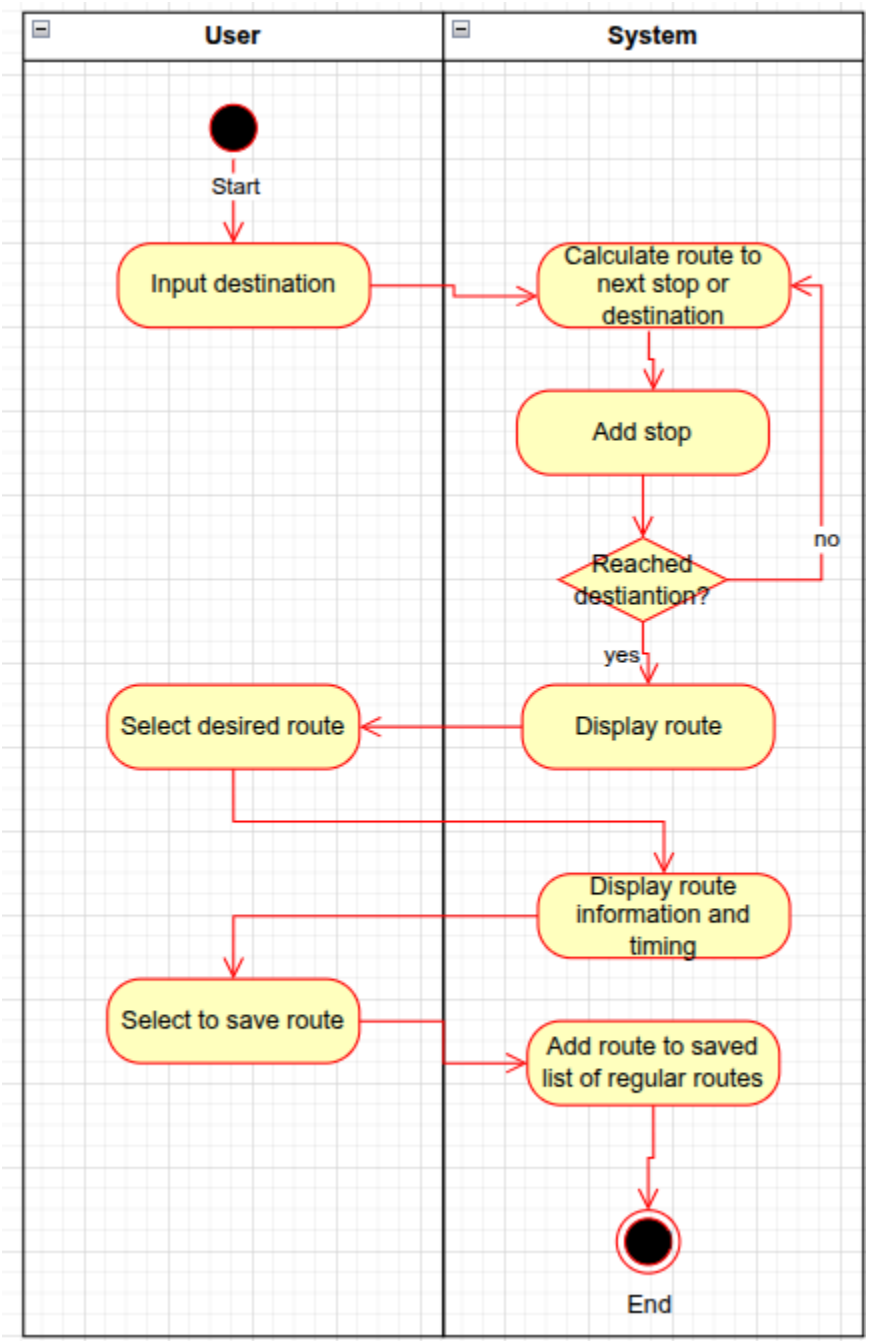
User
System
Start
Input destination
Calculate route to next stop or destination
Add stop
Reached destiantion?
no
yes
Display route
Select desired route
Display route information and timing
Select to save route
Add route to saved list of regular routes
End

UC 3:

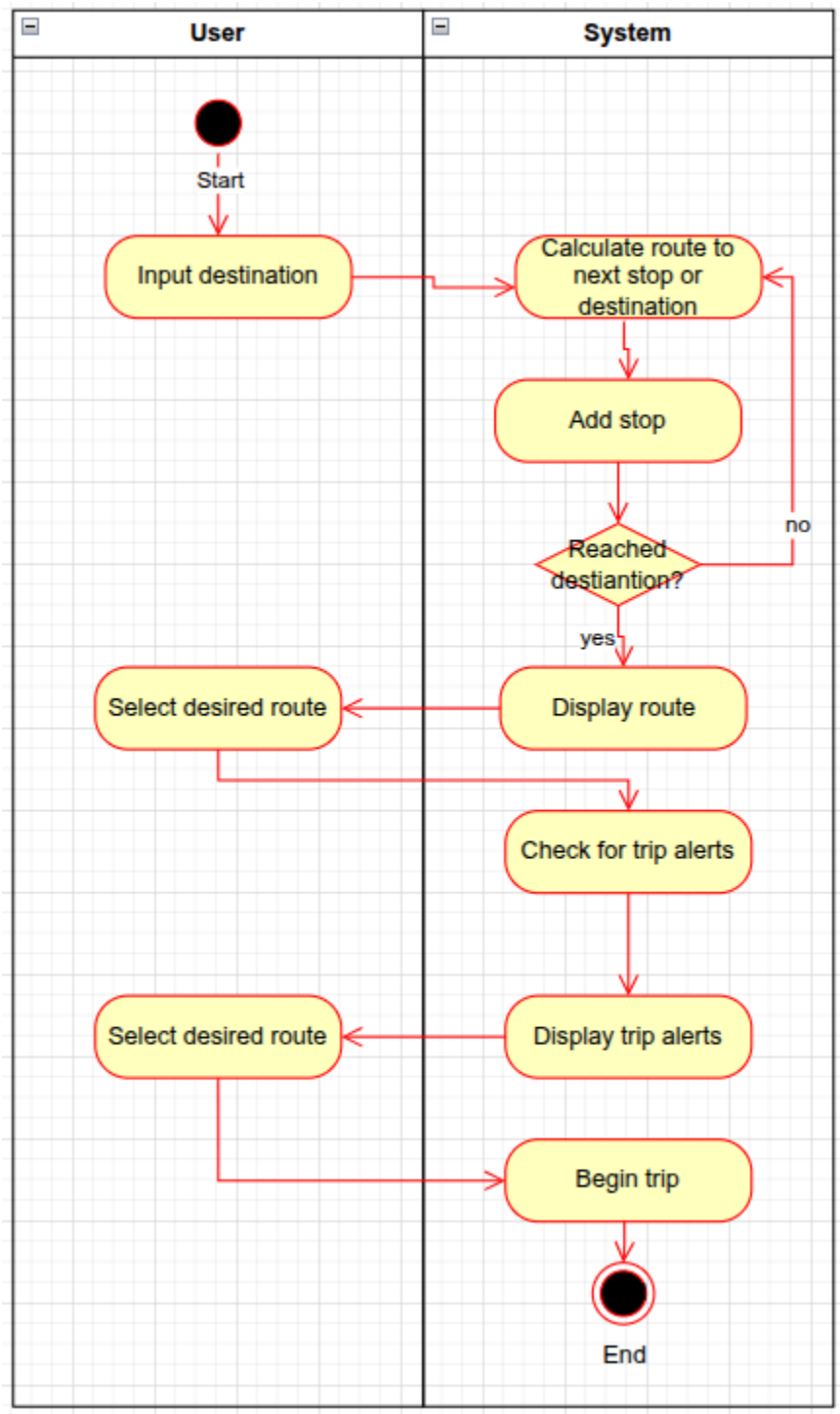
User
System
Start
Input destination
Calculate route to next stop or destination
Add stop
Reached destiantion?
no
yes
Select desired route
Display route
Check for trip alerts
Select desired route
Display trip alerts
Begin trip
End

UC 4:

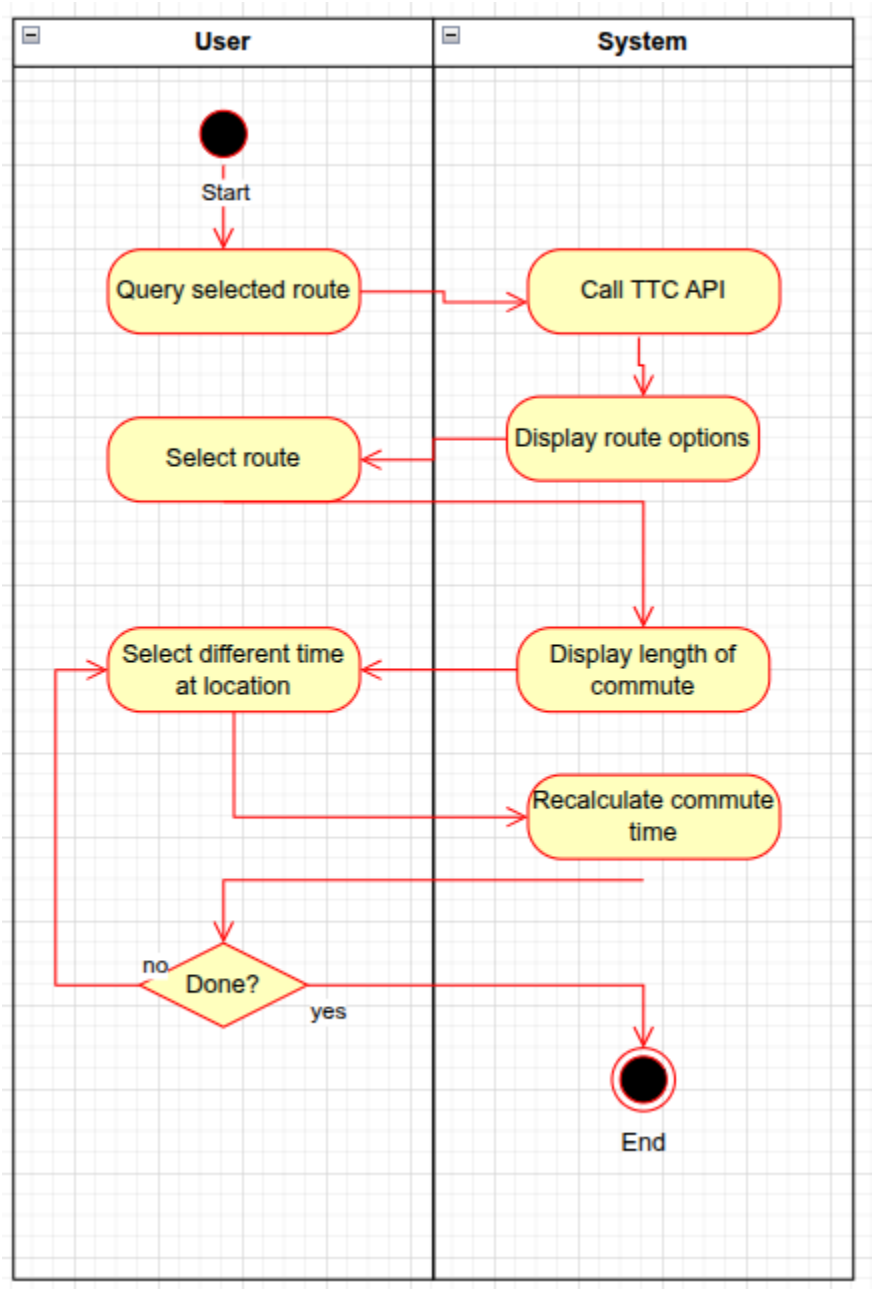
User
System
Start
Query selected route
Call TTC API
Display route options
Select route
Select different time at location
Display length of commute
Recalculate commute time
no
Done?
yes
End

UC 5:

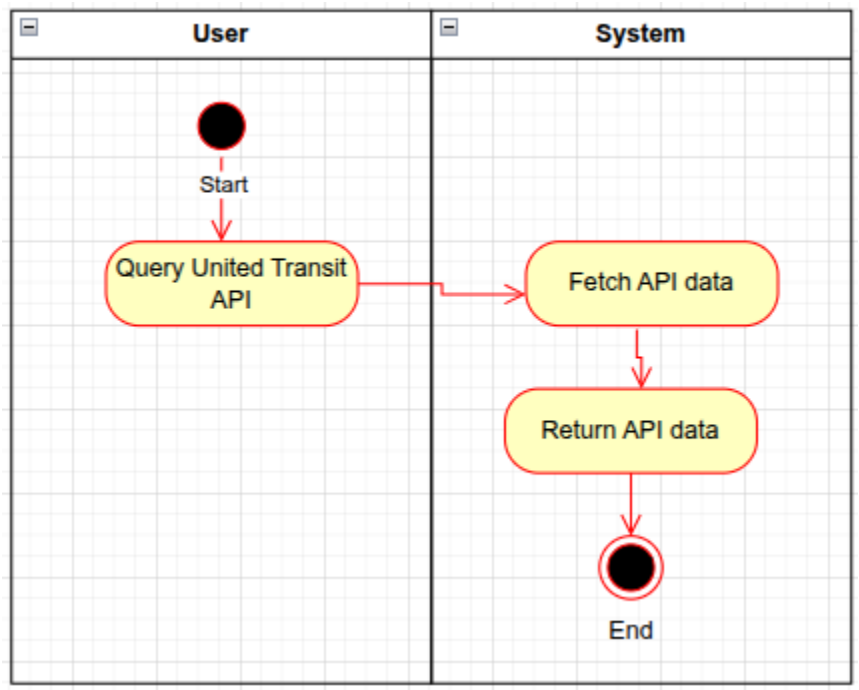

3.4 Business Rules

Fewer stop options (like if the travel to a destination requires 2+ stops, users can select how many stops they want for the trip) for public transit.

Type of transit selection (bus, train, tram, combined or limit the type etc)

Business Rule #	Description	Activity Diagram	Related UCS	UI Mock-up
BR1	System should allow users to filter routes by transit type(s) (bus, train, walking, etc.)		UC1	UI1
BR2	System should allow users to specify a maximum number of transit stops (transfers) for a trip		UC1	UI1
BR3	System should notify users when significant delays occur that affect connections or arrival time		UC3	UI2
BR4	System should display real-time vehicle locations when supported		UC4	UI1, UI3
BR5	System should recalculate routes using real-time transit data when		UC4	UI1, UI3

	available or fallback to scheduled data			
BR6	System should prioritize routes with fewer transfers if total travel time is similar		UC1	UI1
BR7	System should allow users to save routes which are frequently used without requiring an account		UC2	UI3
BR8	System should alert users in advance if a saved trip is affected by service disruptions		UC2, UC3	UI2
BR9	System should present alternative routes when service disruptions occur during travel		UC1, UC4	UI2
BR10	System should calculate and display total travel time for an entire multi-stop trip		UC1	UI4
BR11	System should calculate and display arrival times for each individual stop in a multi-stop trip		UC1	UI4
BR12	System shows users the previous and upcoming stops for a route or the buses for a stop		UC1	UI4
BR13	The demonstration app will display data provided by the United transit API		UC5	UI1,UI2,UI3
BR14	Customers must be within 1km vicinity of the stop to make alterations of the stop		UC2,4	UI1
BR15	Alternative routes when service disruptions occur during travel must be fastest route		UC2	UI2
BR16	System should have the option to alter routes when user doesn’t want to proceed with the presented route		UC1	Ui4
BR17	Reported disruption must be unavailable until it is confirmed to be stable		UC4	UI2
BR18	User should save the trip		UC2	Ui3
BR19	User should get notified of any changes that may occur on their saved trip x minutes prior to the destination arrival		UC3	UI2
BR20	Report from user should be considered yet not overridden		UC4	UI4

BR21	Any updates to the transit system must override the trip		UC3, UC4	UI2
BR22	App must streamline when there has been an update to the transit system		UC5	Ui2
BR23	If the app is affected by disrupted API, it must warn / alert user for any inaccuracies		UC5	UI2
BR24	App should be able to cater both Android and IOS devices		UC4, UC5	UI1,UI2,Ui3< UI4

Section 4 – Domain Class

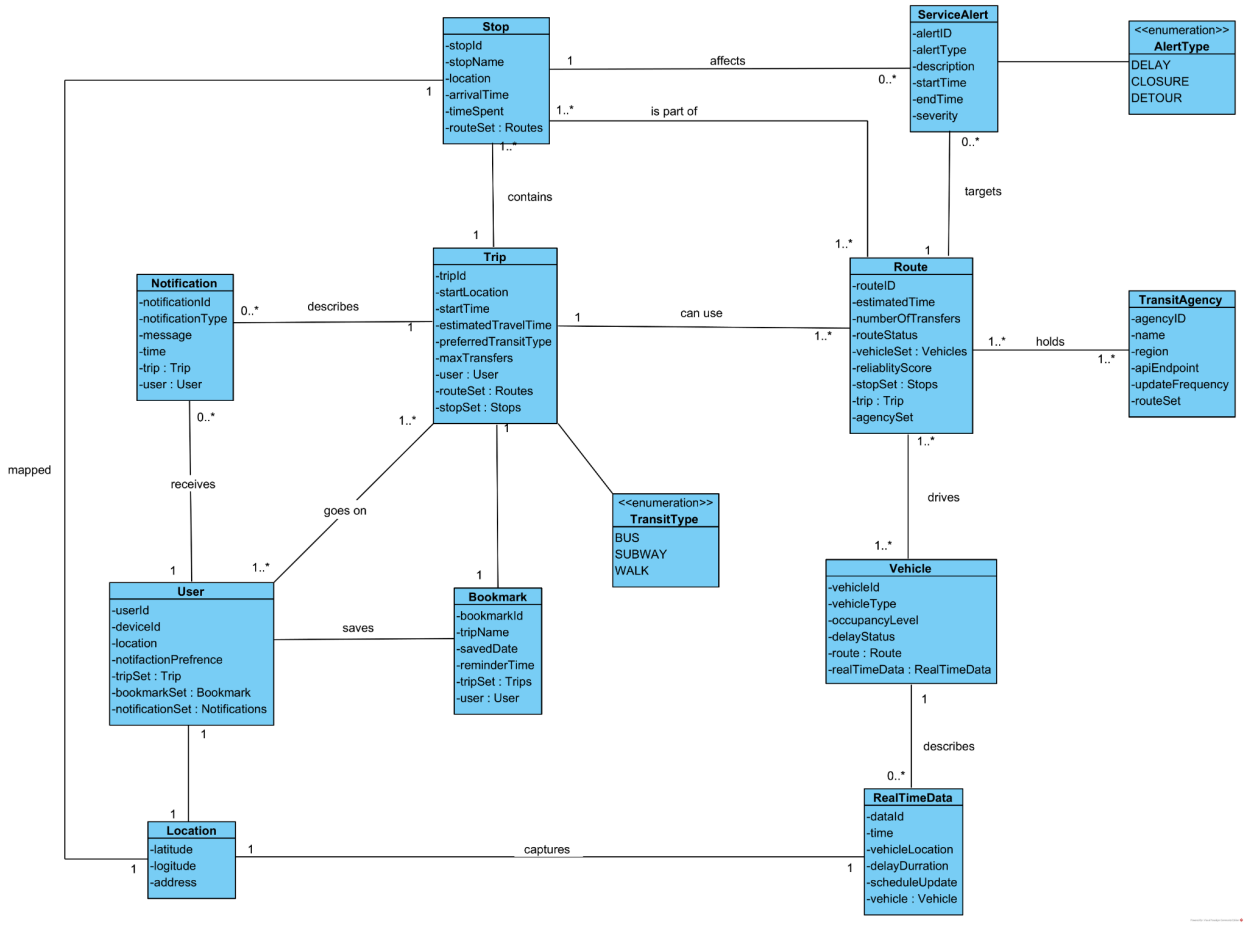

Section 5 – Database

5.1 ERD Diagram

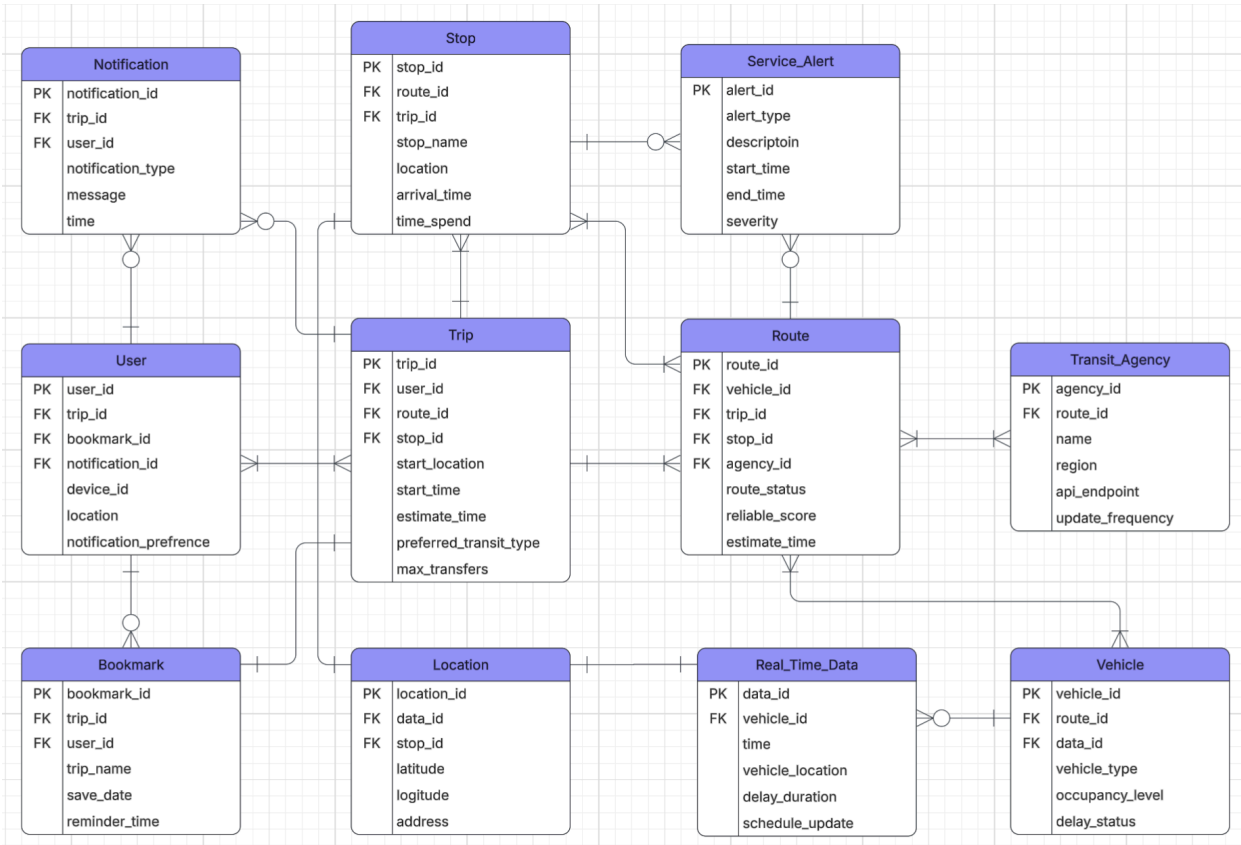

5.2 Data Dictionary

Data Dictionary: User

Data Item	Data Type	Data Format	Num Bytes for Storage	Size for Display	Desc	Example
userID	INT		4	4	Identification number to track user.	0001
deviceID	INT		4	4	Identification number to track device.	0001
location	STRING		24	24	String representing	King Street E.

					user's current location	
notificationPreference	STRING		24	24	String representing user's choice of notifications.	ALL
tripSet	ARRAY (INT)		16	32	Saved trips	[25, 26, 27]
numOfBookmarks	ARRAY (INT)		16	32	Saved bookmarks	[24, 25, 26]
numOfNotifications	ARRAY (INT)		16	32	Saved notifications	[22. 23, 24]

Data Dictionary:Notification

Data Item	Data Type	Data Format	Num Bytes for Storage	Size for Display	Desc	Example
notificationID	INT		4	4	Identification number for notification	0002
notificationType	STRING		24	24	Type of notification	PUSH
message	STRING		24	24	Message attached to notification	Vehicle arriving now
time	DATE	DD/MM/YYYY	7	10	Displays date of trip	01/01/2000
tripID	INT		4	4	Trip ID associated with notification	0001
userID	INT		4	4	User ID associated with notification	0001

Data Dictionary: Trip

Data Item	Data Type	Data Format	Num Bytes for Storage	Size for Display	Desc	Example
tripID	INT		4	4	Unique identifier of current trip	0231
startLocaton	STRING		24	24	Displays name of starting location	SENECA HILL DRIVE
startTime	DECIMAL	DD/MM/YYYY	8	10	Displays date of trip	01/01/2000
estimatedTravelTime	DECIMAL	#.#	8	10	Displays length of trip	0.5 hours
preferredTravelType	STRING		24	12	Displays user's preferred method of travel	BUS
maxTransfers	INT		4	4	Holds the maximum amount of allowed transfers	4
userID	INT		4	4	Contains user's unique identifier	0001
routeSet	ARRAY (INT)		24	24	Contains a list of trip routes	[24, 56, 21]
stopSet	ARRAY (INT)		24	24	Contains a list of stops	[1, 2, 5]

Data Dictionary: Stop

Data Item	Data Type	Data Format	Num Bytes for Storage	Size for Display	Desc	Example
stopID	INT		4	4	Unique identifier for stop	0001
stopName	STRING		24	24	Name of stop	SENECA HILL DRIVE
coordinates	DECIMAL	#.#### #.####	16	16	Contains coordinates of stop	12.444 44.55556
arrivalTime	DECIMAL		8	8	Displays time until arriving at stop	0.5
timeSpent	DECIMAL		8	8	Tracks time user spend at location	1.5
routeSet	ARRAY (INT)		4	24	Contains a list of trip routes	[24, 56, 21]

Data Dictionary: Bookmark

Data Item	Data Type	Data Format	Num Bytes for Storage	Size for Display	Desc	Example
bookmarkID	INT		4	4	Unique identifier for bookmark	`1234
tripName	STRING		24	31	Name of bookmarked trip	TRIP ONE
savedDate	DATE	DD/MM/YYYY	7	10	Date trip was saved on	01/01/2000
reminderTime	DECIMAL		16	16	Time at which app notifies user to take bookmarked trip	0.5
tripSet	ARRAY		16	16	Saved trips	[25, 26, 27]

	(INT)					
userID	INT		4	16	Unique identifier of user	0001

Data Dictionary: Route

Data Item	Data Type	Data Format	Num Bytes for Storage	Size for Display	Desc	Example
routeID	INT		4	4	Unique identifier for route	0004
estimatedTime	DECIMAL		8	8	Estimated length of trip	0.5
numberOfTransfers	INT		4	4	Required number of transfers to complete route	4
routeStatus	STRING		24	24	Status of route to report any delays or closures	LINE 1 - CLOSED
vehicleSet	ARRAY(STRING)		72	24	Vehicles required to complete trip	[BUS, TRAIN, WALK]
reliabilityScore	DECIMAL		8	8	Rates how reliable a trip is	4.9
stopSet	ARRAY(INT)		16	16	Stop IDs listed to complete trip	[24, 25, 28]

tripID	INT		4	4	Unique identifier for the current trip	0002

Data Dictionary: Vehicle

Data Item	Data Type	Data Format	Num Bytes for Storage	Size for Display	Desc	Example
vehicleID	INT		4	4	Unique identifier for the vehicle	0001
vehicleType	STRING		24	24	Type of vehicle	BUS
currentLocation	DECIMAL	#.#### #.####	16	16	Location of vehicle	12.44 22.222
nextStop	INT		4	4	Id of upcoming stop	005
occupancyLevel	INT		4	4	Number of occupants on upcoming vehicle	26
delayStatus	STRING		24	24	Status of any delays	LINE 1-CLOSED
routeID	INT		4	4	Unique identifier for the route	0001
dataID	INT		4	4	Unique identifier for the real time data	0006

Data Dictionary: RealTimeData

Data Item	Data Type	Data Format	Num Bytes for Storage	Size for Display	Desc	Example

dataID	INT		4	4	Unique identifier for the real time data	0006
time	DECIMAL		8	8	Real time	00.43
vehiclePosition	STRING		24	24	Current stop vehicle is at	SENECA HILL DRIVE
delayDuration	DECIMAL		8	8	Length of current delay	0.5
scheduleUpdate	STRING		24	24	Changes in schedule	TRAIN LEAVING IN 5 MINUTES
vehicleID	INT		4	4	Unique vehicle identifier	0002

Data Dictionary: ServiceAlert

Data Item	Data Type	Data Format	Num Bytes for Storage	Size for Display	Desc	Example
altertID	INT		4	4	Unique identifier for the service alert	0006
alertType	STRING		16	16	Displays type of alert	DELAY
description	STRING		24	24	Provides greater detail on alert	BUS CRASHED
startTime	DECIMAL		8	8	start of current delay	0.5
endTime	DECIMAL		8	8	End of most recent delay	1.5
severity	INT		4	4	Number identifying	4

					severity of delay	

Data Dictionary: TransitAgency

Data Item	Data Type	Data Format	Num Bytes for Storage	Size for Display	Desc	Example
agencyID	INT		4	4	Unique identifier for the agency	0006
name	STRING		24	24	Name of transit agency	TORONTO TRANSIT COMMISSION
region	STRING		24	24	Region that the agency operates in	YORK
apiEndpoint	STRING	www.blah.ca	24	24	URL for api information	www.ttc/API.ca
routeSet	ARRAY (INT)		16	16	Set of route IDs	[27, 28, 30]

Section 6 – Project Management

6.1 Work Breakdown Structure

Level 1: Product Goal (Epic Level)

1. United Transit – Multi-Stop Public Transit Optimization System

Level 2: Major Deliverables (High-Level Features / Epics)

1.1 Multi-Stop Trip Planning Engine
1.2 Real-Time Transit Monitoring System
1.3 Alert Management & Notification System
1.4 Trip Management & Bookmarking System
1.5 Route Optimization & Alternative Routing

1.6 Data Integration (GTFS & Real-Time Feeds)

Level 3: Iteration/Sprint-Level Breakdown (User Stories/Features)

1.1 Multi-Stop Trip Planning Engine

1.1.1 As a user, I can input multiple destinations in a single trip
1.1.2 As a user, I can choose the time spent at each stop
1.1.3 As a user, I can view total trip ETA
1.1.4 As a user, I can see detailed stop-by-stop route breakdown
1.1.5 As a user, I can select preferred transit types (bus, train, walking)

1.2 Real-Time Transit Monitoring System

1.2.1 As a user, I can view live locations of transit vehicles on a map
1.2.2 As a user, I can see delays and estimated arrival times
1.2.3 As a user, I can receive system-wide status updates
1.2.4 As a user, I can see vehicle occupancy levels

1.3 Alert Management & Notification System

1.3.1 As a user, I can manage train schedule to be alerted in preferred intervals
1.3.2 As a user, I can choose specified transit route be alerted
1.3.3 As a user, I can get alert for any potential delays that will be posted in the future
1.3.4 As a user, I can get alerts for any accidents, detours, or changes that is different from the normal route
1.3.5 As a user, I can get alerts for better routes in the middle of the travel that is better suited for my travel.

1.4 Trip Management & Bookmarking System

1.4.1 As a user, I can save frequent trips for faster access
1.4.2 As a user, I can edit or delete saved trips
1.4.3 As a user, I can save a trip for a future date
1.4.4 As a user, I can view all my bookmarks in a calendar view

1.5 Route Optimization & Alternative Routing

1.5.1 As a user, I have options to adjust my route based on the time and tracks I want to use for my trip.
1.5.2 As a user, I can find out which route is “better” optimized based on my preferences
1.5.3 As a user, if there are any constructions or unforeseen circumstances, I can find an alternate “best route” to cater my travel instead of having to detour from the start.
1.5.4 As a user, I can adjust route optimization in the midst of travelling based on criteria such as: bus intervals, weather, construction, and other unforeseen circumstances.

Level 4: Sprint Tasks (Granular Task-Level WBS)

1.1.1 Input multiple destinations

- 1.1.1.1 Design multi-stop input UI mockups
- 1.1.1.2 Implement front-end based on UI
- 1.1.1.3 Validate user inputs
- 1.1.1.4 Integrate routing algorithm for multi stop logic
- 1.1.1.5 Unit test functionality

1.2.2 Delays and estimated arrival times

- 1.1.1.1 Design ETA display UI
- 1.1.1.2 Implement ETA calculation logic
- 1.1.1.3 Connect ETA with real time data
- 1.1.1.4 Unit test ETA updates
- 1.1.1.5 Verify ETA accuracy

1.3.4 Alerts for routes

- 1.1.1.1 Design Alert UI
- 1.1.1.2 Implement backend alert triggers
- 1.1.1.3 Integrate alerts with user preferences
- 1.1.1.4 Test alerts for various scenarios

1.4.1 Saving trips

- 1.1.1.1 Design save trip UI
- 1.1.1.2 Implement storage for trips
- 1.1.1.3 Integrate save functionality with trip planner
- 1.1.1.4 Unit test saving and retrieval

1.5.2 Route comparison

- 1.1.1.1 Design route comparison UI
- 1.1.1.2 Implement route query logic
- 1.1.1.3 Integrate alternative routes into planner
- 1.1.1.4 Unit test route display

6.2 Milestones & Acceptance Criteria

Milestone 1: Data Integration & System Foundation

- **Mapped to WBS:** Epic 6 (Data Integration - GTFS & Real-Time Feeds)
- **Acceptance Criteria:**
    - The system successfully connects to the TTC BusTime API and static GTFS data.
    - The database is set up to store and query transit stops and route information efficiently.
    - API endpoints are created to fetch and return real-time transit data without critical latency.

Milestone 2: Core Multi-Stop Engine MVP

- **Mapped to WBS:** Epic 1 (Multi-Stop Trip Planning Engine) & Epic 5 (Route Optimization & Alternative Routing)
- **Acceptance Criteria:**
    - Users can successfully input a starting point, a final destination, and at least one intermediate stop through the UI.
    - Users can see a visualization of the trip with map UI displaying on screen.
    - The routing algorithm calculates and returns a valid route sequence with a total estimated time of arrival (ETA).
    - The system allows users to define the duration of their stay at each stop.

Milestone 3: Real-Time Monitoring & Notifications

- **Mapped to WBS:** Epic 2 (Real-Time Transit Monitoring System) & Epic 3 (Alert Management & Notification System)
- **Acceptance Criteria:**
    - The system dynamically tracks active transit vehicles mapped to the user's route.
    - If a service delay or cancellation is detected via the real-time feed, the system generates an alert.
    - Alternative routes are automatically suggested when a major disruption occurs.

Milestone 4: User Personalization & Final Delivery

- **Mapped to WBS:** Epic 4 (Trip Management & Bookmarking System) & Final Testing
- **Acceptance Criteria:**
    - Users can save frequently used multi-stop routes (e.g., Home -> Grocery Store -> Seneca) to their profiles.
    - The complete user interface is responsive and follows the finalized UI/UX design mockups.
    - End-to-end testing is successfully completed with a documented bug-free critical path.

Section 7 – Product Backlog & Implementation Schedule

User Story 1: "As a public transit user, I want to plan a multi stop trip in a single search so that I can see the total travel time, possible routes/transfers, transit types and stop information. "

Description: Users want to input a full route with intermediate stops which will calculate their total trip time based on estimated times per stop.

Acceptance Criteria:

- "Input stop" appears for end users.
- Users can input their stops and the system will calculate full transit time.
- User can change, adjust, or update the intermediate stops at any time
- User can input time at a destination which will update the total commute time display.

Testing Scenarios:

- User's time is calculated then adjusted when updating time at mid-level stop.
- Users are able to adjust middle stops as desired.
- When users update their route it will persist for the remainder of the journey.

User Story 2: " As a regular commuter, I want to save my usual trips so that I don't have to input the same destinations all the time."

Description: Users want to save regular trips for easy and quick access to these routes.

Acceptance Criteria:

- "Save route" appears for end users.
- Trip persists between user sessions.
- Trip remains assigned to user accounts to work across devices.

Testing Scenarios:

- Users that save stops can access them from any device.
- Saved trips persist between log-in sessions
- Trips are saved when the saved button is clicked without requiring additional information.

User Story 3: "As a transit user, I want to receive meaningful notifications about my current or saved trips so that I can adjust my schedule accordingly. ."

Description: Users want to be notified when there are any meaningful changes or disruptions to their current or saved trips. When a disruption such as a car accident or construction work is found if the users route will not be impacted a notification is not needed but if it will change their schedule a notification is sent.

Acceptance Criteria:

- When a disruption is detected the impact is determined and depending on user settings they are notified
- A user can choose how to be notified (push notifications, text, email)
- A user can choose when to be notified (All disruptions, only impactful ones, none)

Testing Scenarios:

- User receives notification when a disruption is detected
- Notification is meaningful and aligns with user settings
- Notification is only sent once
- If there is an update on the same disruption and update is sent

User Story 4: "As a transit user, I want to be able to see the real time locations of buses and updated schedules so that I can remain informed about my trip."

Description: Users want to be able to visibly see the distance between themselves and the next incoming vehicle.

Acceptance Criteria:

- App will display location of next transit vehicle on map in live time.
- Up to three vehicles can be displayed to provide user options.
- Vehicles will display for each stop on the route, not just the current stop.

Testing Scenarios:

- User can see vehicle display
- Vehicle display updates in live time
- Vehicles will disappear from display after leaving stop
- No more than three vehicles per stop will display at a time

User Story 5: "As a third-party developer , I want to call the United Transit API to get structured transit data so that I can integrate multi-stop routing features into my own local community applications."

Description: Developers from outside our team want access to app information through an API to utilize our information.

Acceptance Criteria:

- API provides vehicle information on call
- API provides time-estimation on call
- Service maintains 99.8% uptime

Testing Scenarios:

- Upon calling the API the appropriate response is provided.
- Data from base-app is updated to API at all times.

User Story 6: “As a transit user, I want the system to automatically suggest alternative routes if I miss a transfer or a sudden delay occurs so that I can still reach my destination efficiently.”

Description: Users want the application to dynamically monitor their progress. If the user misses a scheduled bus or a sudden disruption blocks their planned path, the system should immediately calculate and offer a "Plan B" (Alternative Route) without requiring the user to manually input their stops again.

Acceptance Criteria:

- The system detects when a user’s current location deviates significantly from the planned time/route (e.g., missed connection).
- “Alternative Route Available” prompt appears for the user.
- Users can accept the new route with a single click, updating the total ETA.

Testing Scenarios:

- Simulate a missed vehicle; verify the system detects the delay and generates an alternative route prompt.
- The user clicks "Accept" on the alternative route, and the map/ETA updates seamlessly.
- If the user ignores the prompt, the system continues to monitor the original route (or waits for the next vehicle on the same line).

User Story 7: “As a commuter with specific needs, I want to filter my transit options (e.g., wheelchair accessibility, least walking, preferred transit modes) so that the generated multi-stop route fits my personal capabilities and comfort.”

Description: Users want the ability to customize how the routing algorithm calculates their trip. Some users may require stations with elevators, while others might prefer to avoid taking buses and only use the subway/train, even if it takes slightly longer.

Acceptance Criteria:

- "Route Preferences/Filters" menu is available before and during the search.
- Users can toggle options such as "Wheelchair Accessible," "Least Walking," or "Subway Only."
- The routing algorithm strictly respects these filters when generating the multi-stop path.

Testing Scenarios:

- The user selects "Wheelchair Accessible"; the system successfully removes routes that involve non-accessible subway stations (e.g., stations without elevators).
- The user selects "Least Walking"; the system prioritizes routes with closer transfer points, even if the total transit time is 5 minutes longer.
- Users update preferences mid-trip, and the remaining stops are recalculated based on the new filters.

Sprint	User Story	Short Description	Estimated Time
1	As a public transit user, I want to plan a multi stop trip in a single search so that I can see the total travel time, possible routes/transfers, transit types and stop information.	Provide routing data with multiple stops.	3 weeks
2	As a regular commuter, I want to save my usual trips so that I don't have to input the same destinations all the time.	Allows users to save trips for future use	2 weeks
3	As a transit user, I want to receive meaningful notifications about my current or saved trips so that I can adjust my schedule accordingly.	Notifications for service disruptions based on user settings	2 weeks
4	As a transit user, I want to be able to see the real time locations of buses and updated schedules so that I can remain informed about my trip.	Users want to be able to visibly see the distance to next vehicles.	3 weeks
5	As a third-party developer , I want to call the United Transit API to get structured transit data so that I can integrate multi-stop routing features into my own local community applications.	Third party API access.	1 week
6	As a transit user, I want the system to automatically suggest alternative routes if I miss a transfer or a sudden delay occurs so that I can still reach my destination efficiently.	Shortest and efficient route generator for given destination.	2 weeks
7	As a commuter with specific needs, I want to filter my transit options (e.g., wheelchair accessibility, least walking, preferred transit modes) so that the generated multi-stop route fits my personal capabilities and comfort.	Route generation priority based on specified needs.	1.5 weeks

Section 8 – Client/Faculty Sign-off